CIVIC PLAN

Land Management

land management and planning approval Portal User Guide|V1.1

Copyright © 2026

CIVIC PLAN

Website: www.civicplan.com

Copyright © 2026, CIVIC PLAN System and its developers.

This publication is protected by copyright and remains the property of CIVIC PLAN. It is provided for authorized use only in relation to the CIVIC PLAN platform and associated services.

No part of this publication may be reproduced, distributed, transmitted, or stored, electronically or mechanically, in any form or by any means, without prior written permission from the system administrators or authorized owners. The information contained in this document, including system features and procedures, is subject to change without prior notice.

This publication is intended for use by authorized users only and must be treated as confidential. The information provided herein should be used solely for the purpose of operating and interacting with the CIVIC PLAN system as intended.

CIVIC PLAN assumes no responsibility or liability for any damages, losses, or issues arising from the misuse of this publication, inability to use the system, or any errors or omissions contained within this document.

Contents

1. Introduction 3
2. Log in 3
3. Register New User 4
4. Dashboard page 4
5. Managing Your Profile 5
6. Land Valuation 5
7. Transaction History Page 6
8. How to Submit Documents 7
Step 1 - Summary of Proposed Development 7
Step 2 – Fill Applicant Details 8
Step 3 - Technical Service Providers & Ownership Confirmation 9
Step 4 - Fill in the Land Owner Details 9
Step 5 - Clearances & Reference Details 10
Step 6 – Fill the Usage, Access & Site Details 11
Step 7 – Fill Distances, Building Height & Floor Area 11
Step 8 – Fill Development Details 12
Step 9 – Fill Housing Units & Parking 12
Step 10 – Click The Submitted Plans & Special Compliance. 13
Step 11 – Upload Attachments & Supporting Documents 13
Step 12 - Final Review & Submit 14
9. Applications 14
10. Log Out 15
11. How to Recover a Password when you Forget It 16
12. Tips for Users 17

1. Introduction

Civic plan is a modern digital platform created to make land management and planning approval services easier and more convenient for everyone. It allows users to securely manage their personal accounts, submit applications, upload important documents, and track the progress of their requests in real time. The system is designed to reduce complexity, save time, and make the entire process more transparent and accessible for both citizens and authorities. This user manual will guide you step by step, helping you understand how to use each system feature with ease.

2. Log in

Registered users can sign in to the Civic Plan website.

1. Click the **Sign in** button

2. After clicking the Sign in button, it will display the login screen.

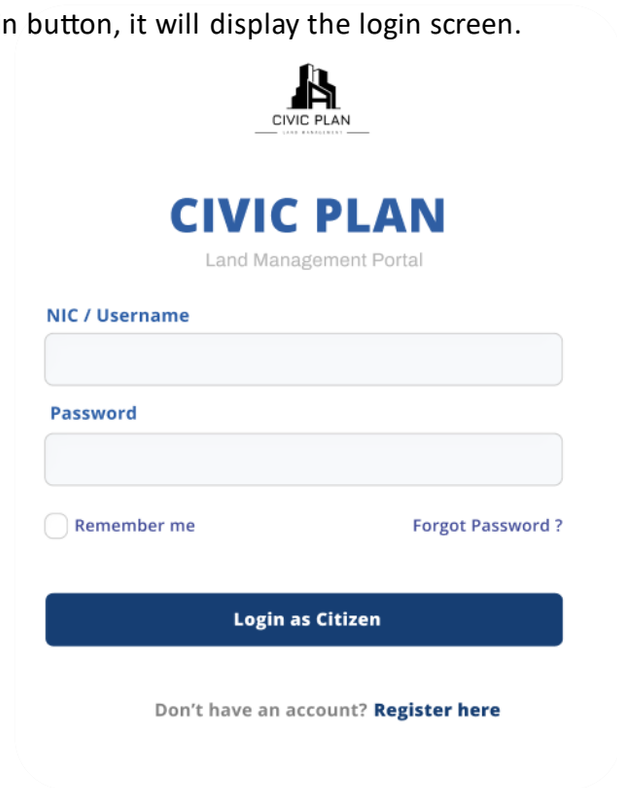

1. Enter your **NIC or Username**
2. Enter your **Password**
3. Click **Login**

   Select Remember me for faster access Next time.

This will display the Home page.

3. Register New User

To register as a user, click the Create Account Button on the Logging Page.

Enter the user details and click the Register button.

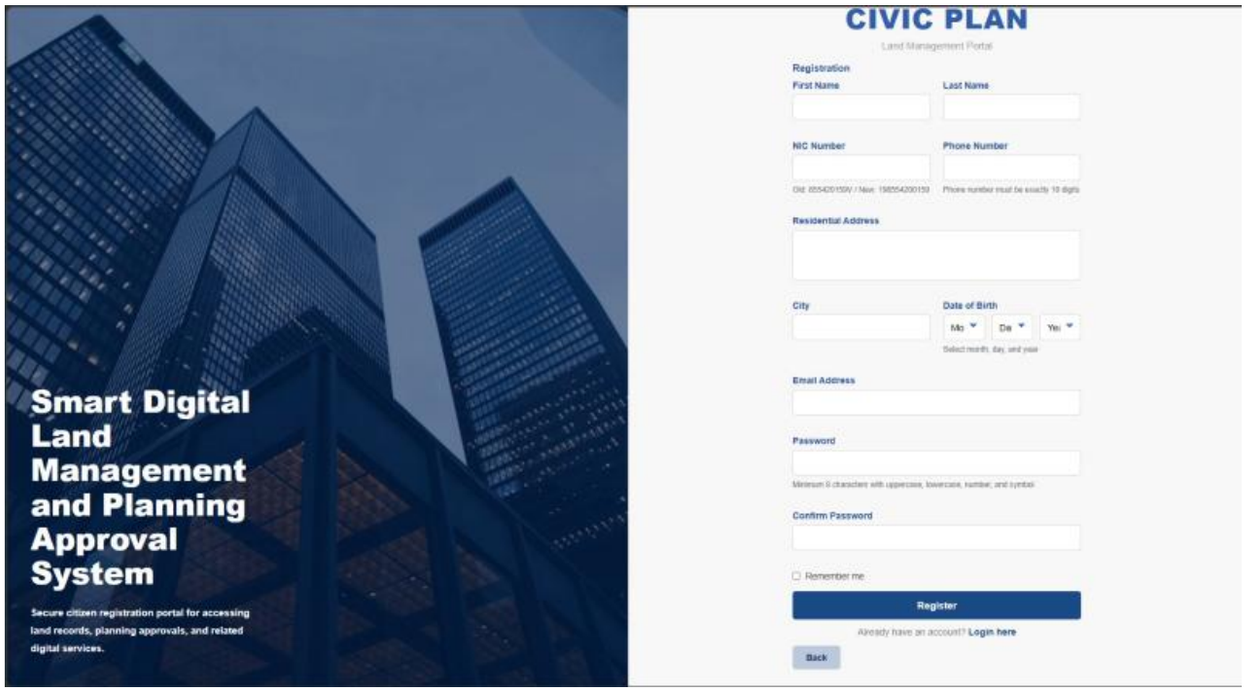

4. Dashboard page

After logging in, you will see the Dashboard

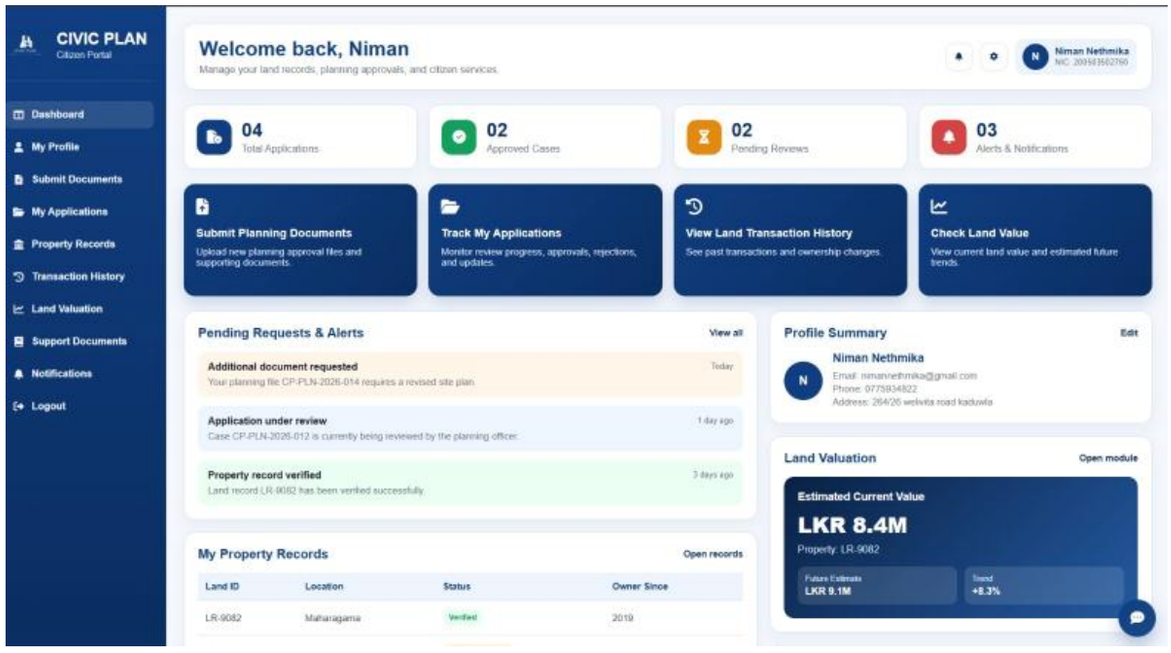

The dashboard serves as the main control panel of the CIVIC PLAN system. It provides users with a summary of their activities, including application statuses, alerts, and important updates.

5. Managing Your Profile

If you want to update your details, click My profile and edit your details as you need. And give Save change.

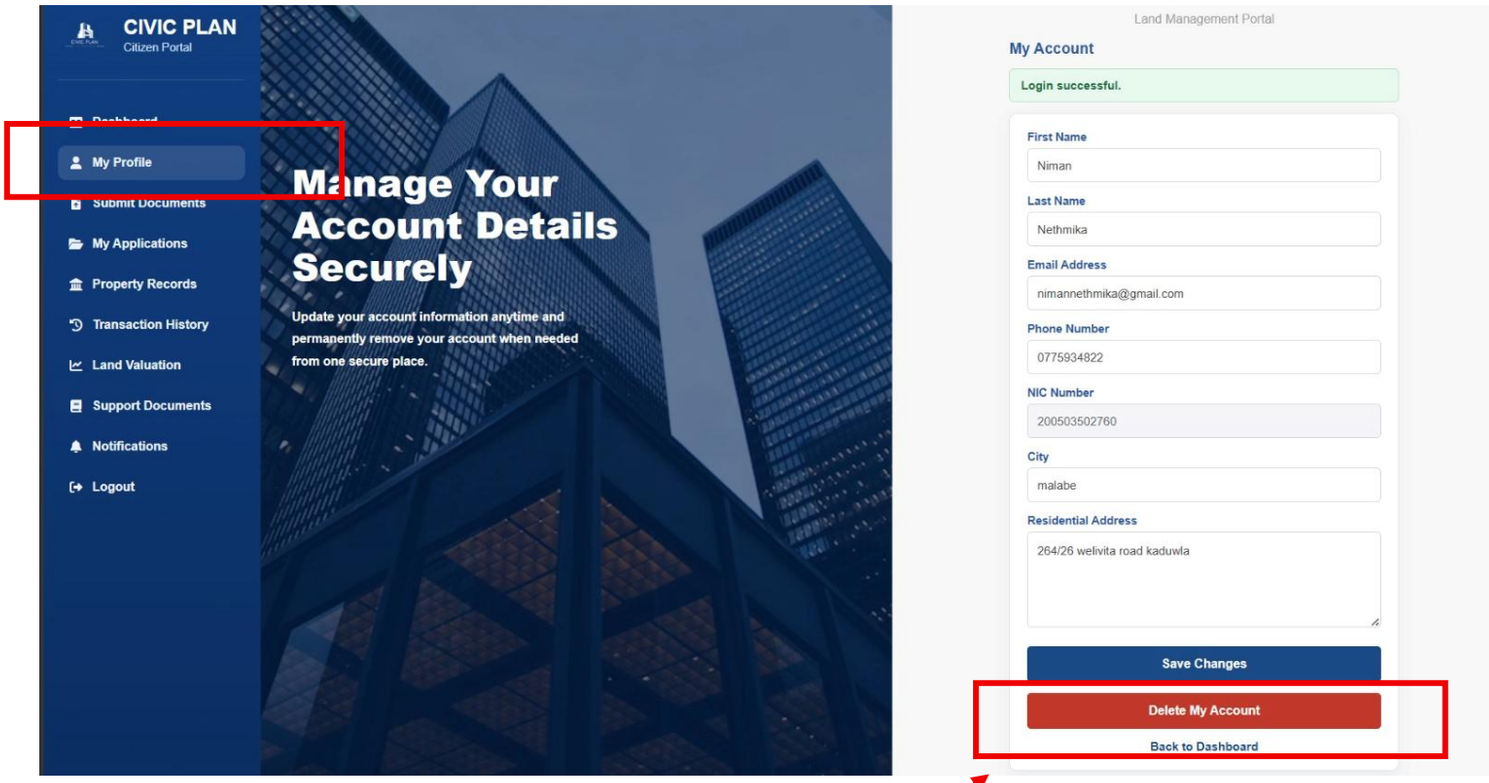

If you need to delete your account, click the Delete My Account under the My Profile page.

6. Land Valuation

The land valuation feature enables users to estimate the value of their land based on various factors such as location, size, road access, and available utilities. The purpose of this step is to provide users with insights into the current and future value of their property. This helps users make informed decisions regarding land usage, investment, or development. It also adds intelligence to the system by offering predictive analysis

To estimate land value

Go to Land Valuation and enter the Land details. After you can see the estimated results.

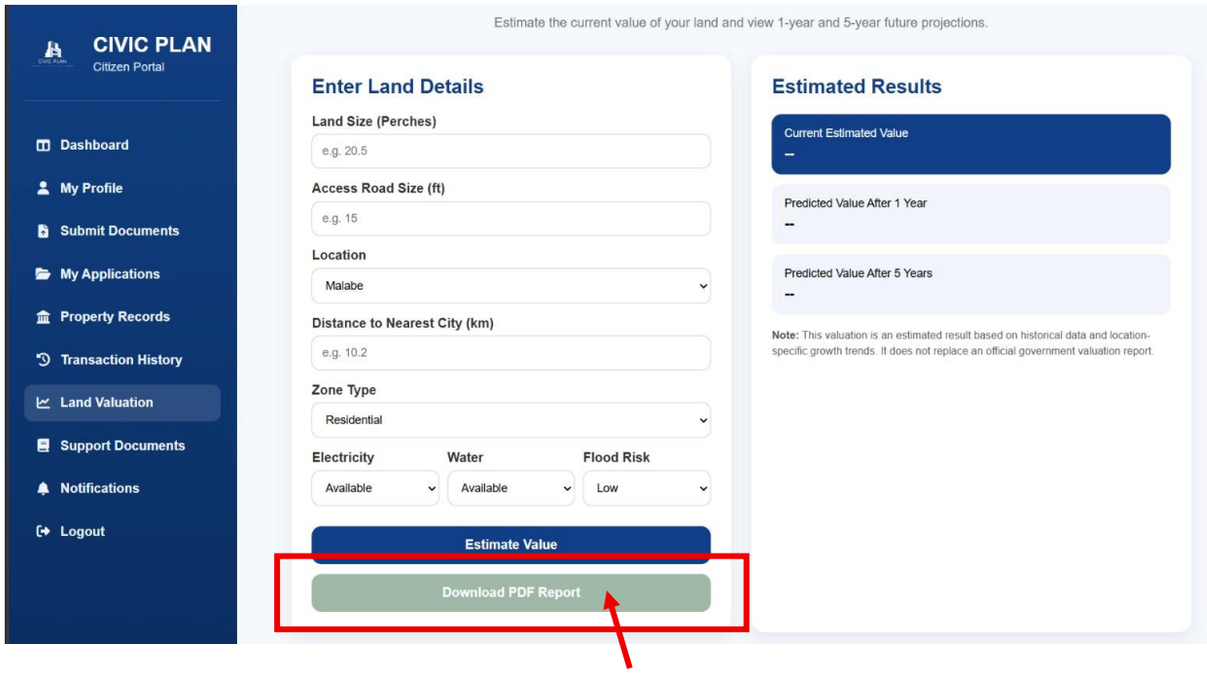

If you need a valuation report, click Download PDF Report.

7. Transaction History Page

The transaction history section maintains records of land ownership and allows users to request updates when ownership changes occur. This ensures transparency and accuracy in land records, which is essential for legal and administrative purposes.

If you want to see the all transaction history, click the View History under the Land Transaction History Page.

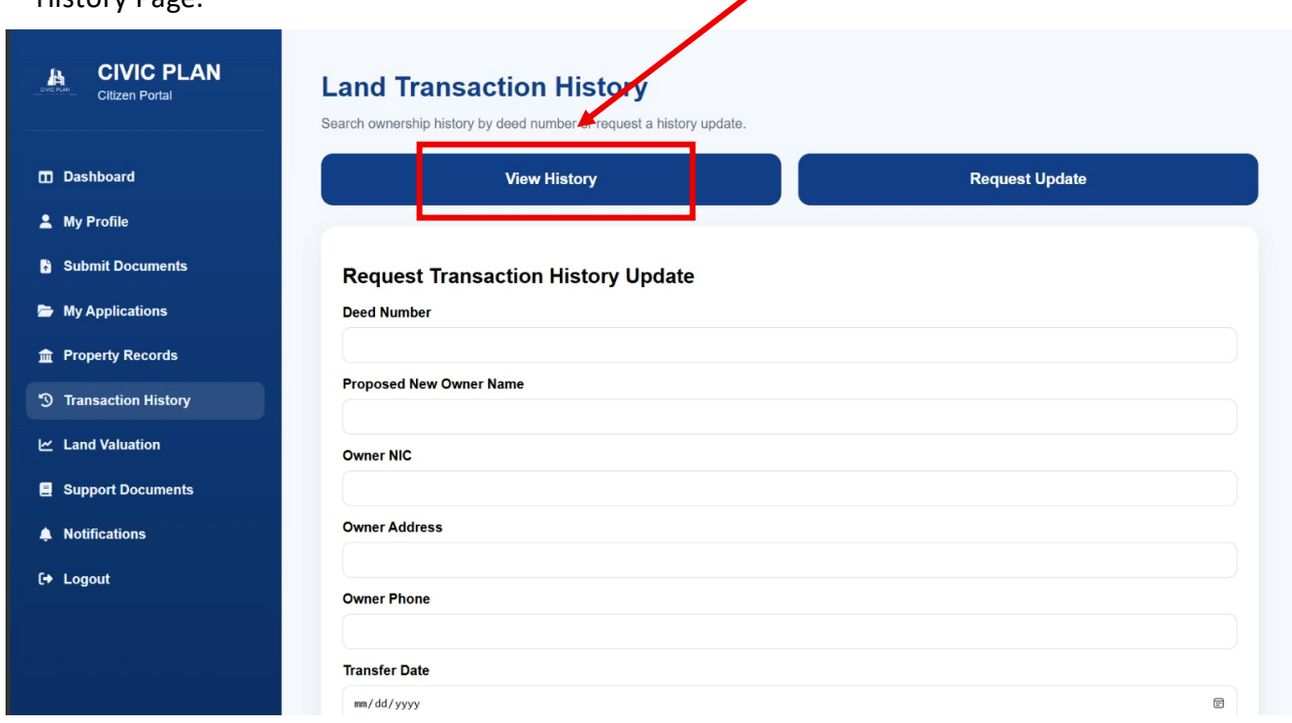

8. How to Submit Documents

This process is structured as a 12-step procedure designed to collect all necessary information required for evaluating development projects. Each step ensures that the application meets legal, technical, and regulatory requirements

Step 1- Summary of Proposed Development

This page is the starting point of the planning approval application process. Its main purpose is to collect basic and essential information about the proposed development project. Users are required to select the type of development (such as new construction, reconstruction, amendment, or addition) and provide key location details including assessment number, road name, local authority, and area identifiers.

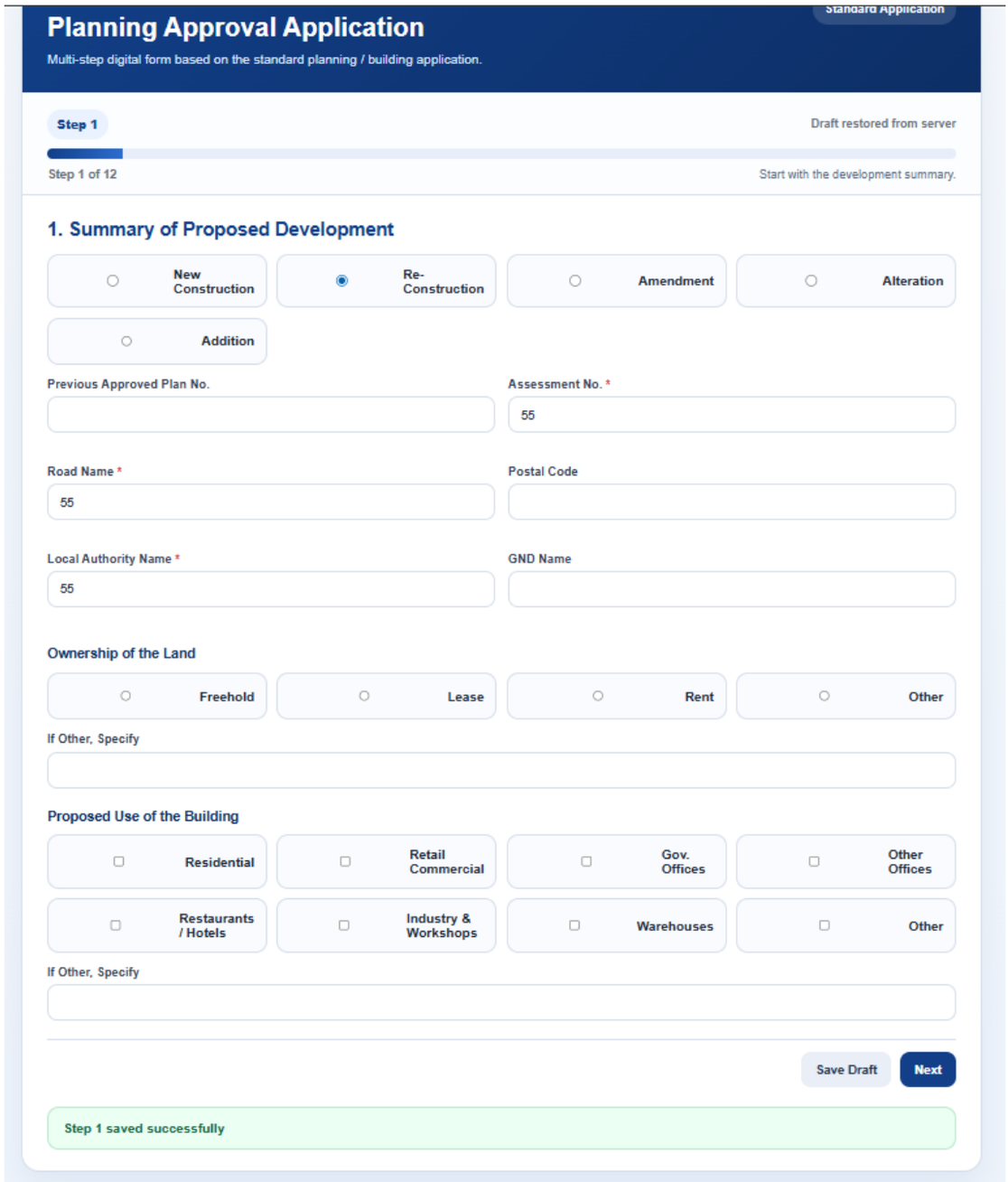

Step 2 – Fill Applicant Details

This step is used to collect the personal and contact information of the applicant who is submitting the planning approval request. The user must enter essential details such as name, NIC number, telephone number, email address, and postal address. This information is important for identification, communication, and official record-keeping throughout the application process.

You can select a GIS location and go through the map. Click the Select on Map

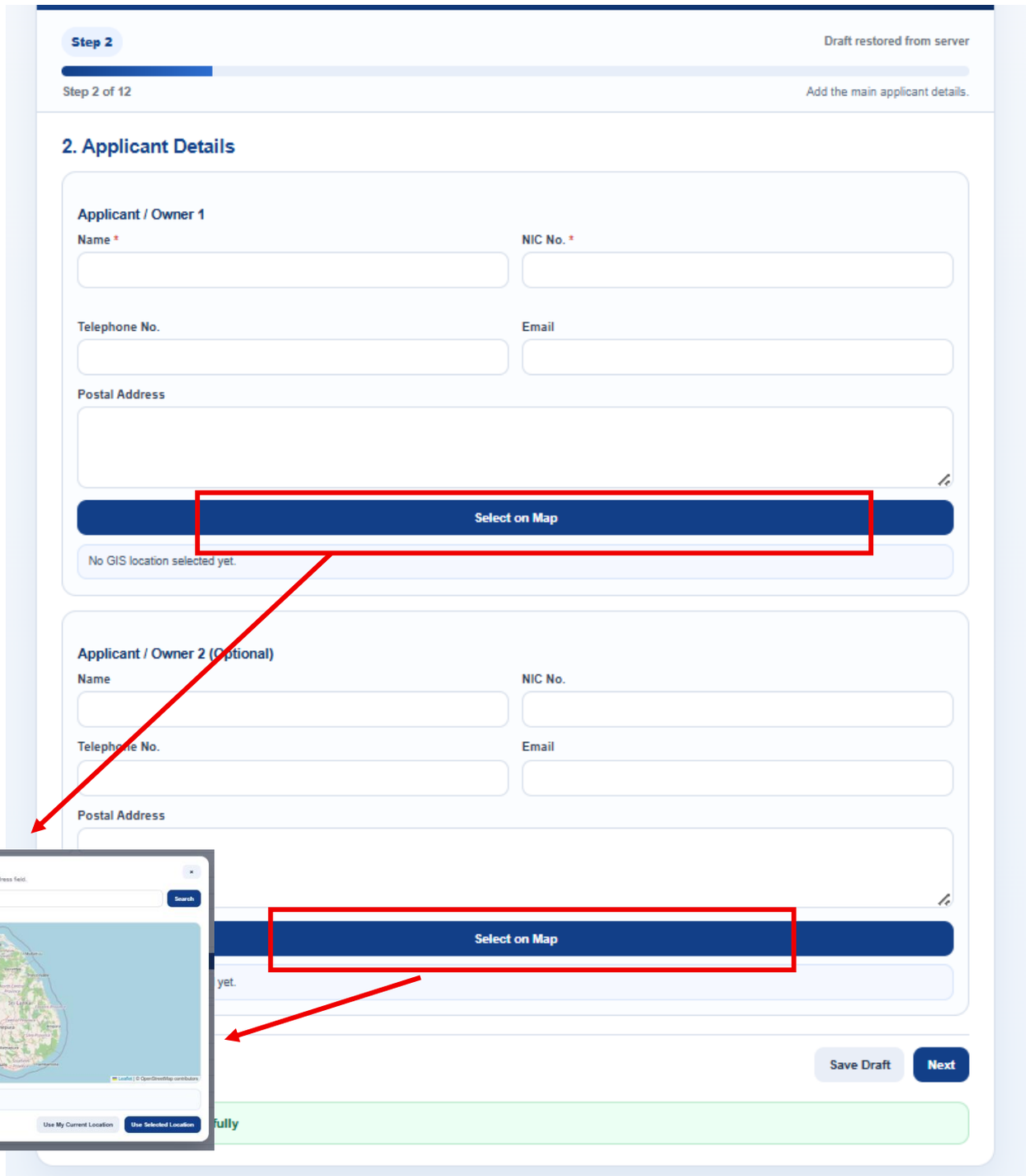

Step 3- Technical Service Providers & Ownership Confirmation

This step is used to record the details of the technical professionals involved in the proposed development project. The applicant is required to provide information about key service providers such as the architect or town planner, draughtsman, and engineer. These professionals play an important role in designing and approving the technical aspects of the project.

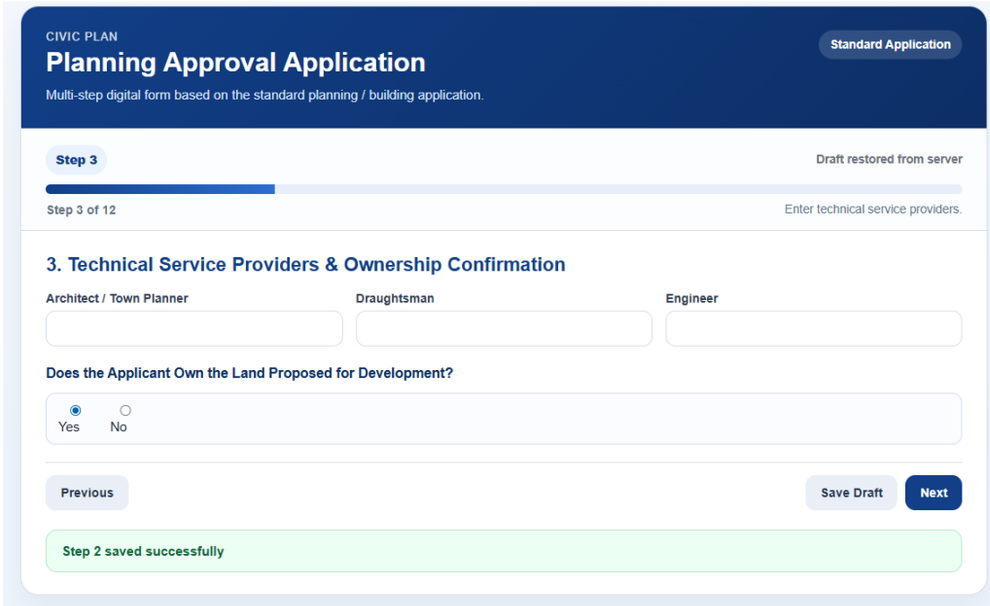

Step 4- Fill in the Land Owner Details

This step is used to record the landowner's details when the applicant is not the owner of the land. If the applicant has already confirmed ownership in the previous step, this section becomes optional. However, if the land belongs to another individual or party, the user must provide accurate information about the landowner.

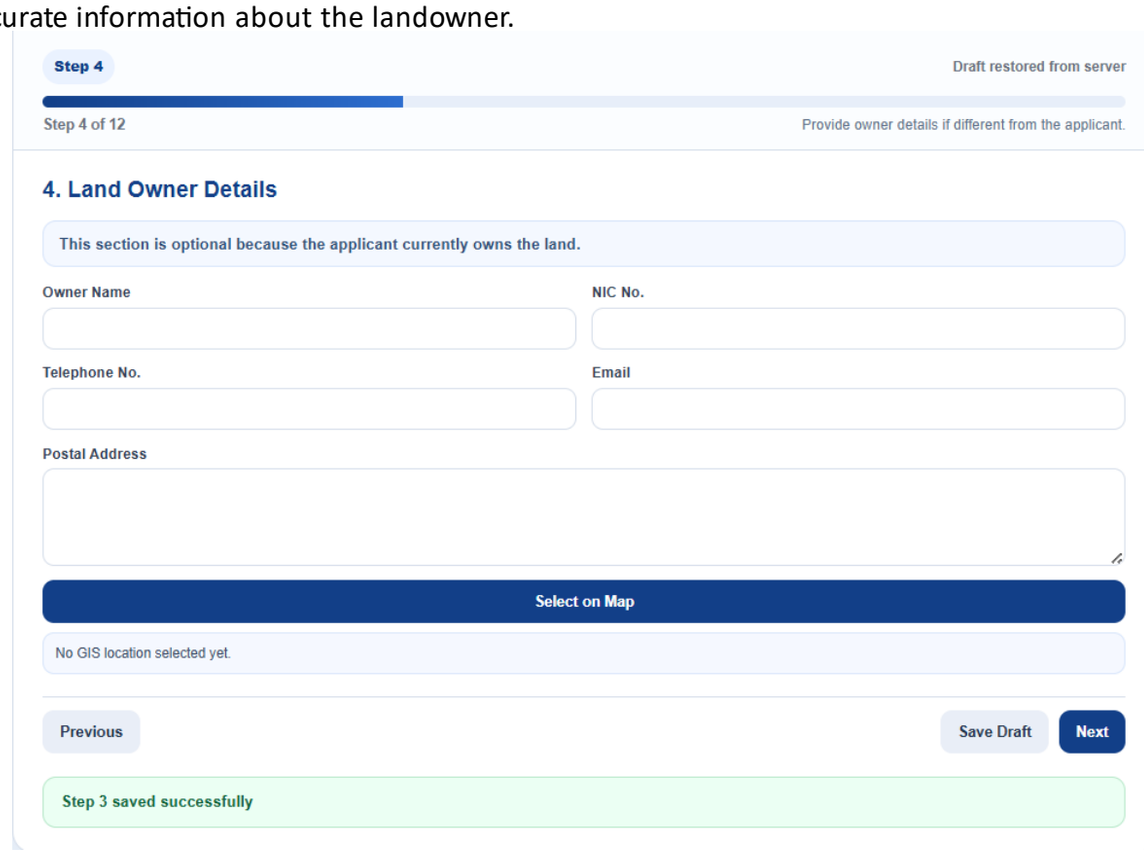

Step 5- Clearances & Reference Details

This step is used to record important clearance approvals required for the development project from relevant authorities. The applicant must enter reference numbers and dates for different types of clearances, such as Rate Clearance, National Water Supply & Drainage Board (NWSDB) Clearance, Drainage Clearance, and Urban Development Authority (UDA) Preliminary Clearance.

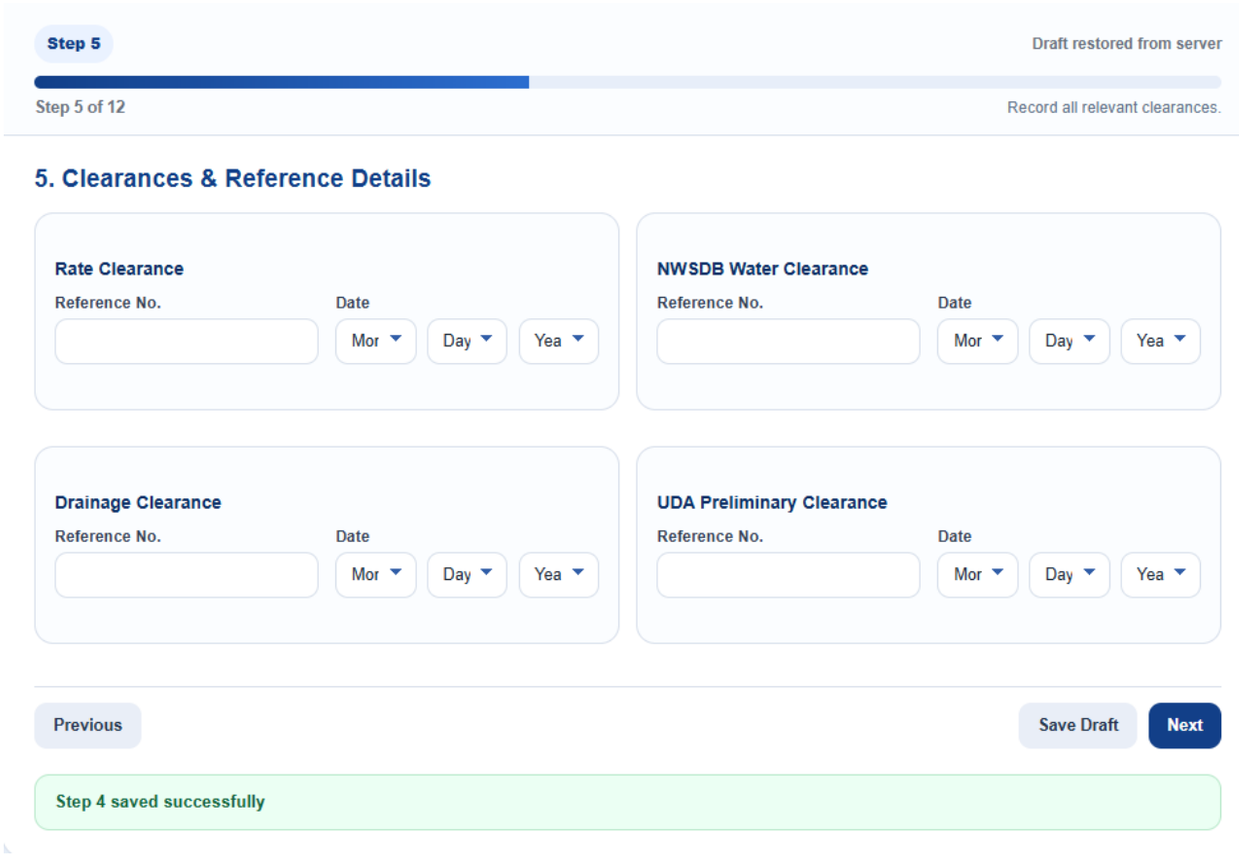

These clearances confirm that the proposed development complies with essential regulations related to utilities, infrastructure, and urban planning. By providing these references, the applicant demonstrates that necessary permissions have been obtained or are in progress.

This step ensures that the development meets all regulatory and environmental requirements before proceeding with the approval process. It helps authorities verify compliance efficiently and reduces delays during application review.

Step 6 – Fill the Usage, Access & Site Details

This step is used to provide detailed information about how the land is currently being used and how it will be used after development. The applicant must describe the existing use of the site as well as the proposed use, helping authorities understand the purpose and impact of the project.

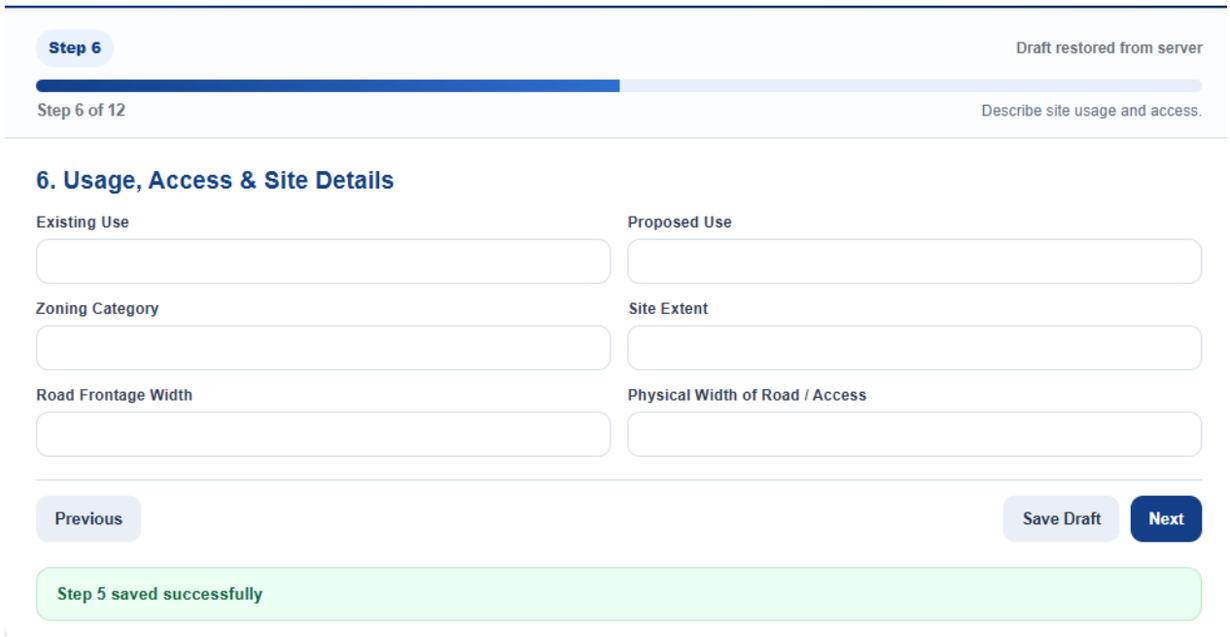

Step 7 – Fill Distances, Building Height & Floor Area

This step is used to provide detailed measurements related to the physical layout and structure of the proposed building. The applicant must enter boundary distances from all sides of the land, including the street, rear, left, and right boundaries. These measurements are essential to ensure that the development complies with building regulations and maintains proper spacing from surrounding properties.

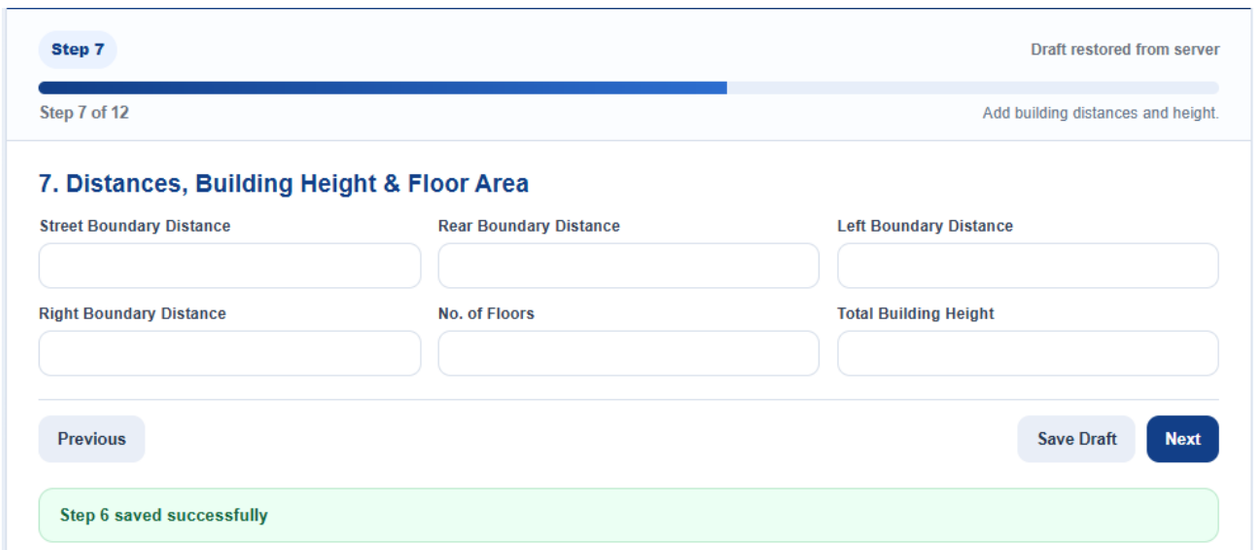

Step 8 – Fill Development Details

This step is used to provide key technical and planning-related details about the proposed development. The applicant is required to enter important metrics such as plot coverage percentage and floor area ratio (FAR), which help determine how much of the land will be used for construction and how the building space is distributed.

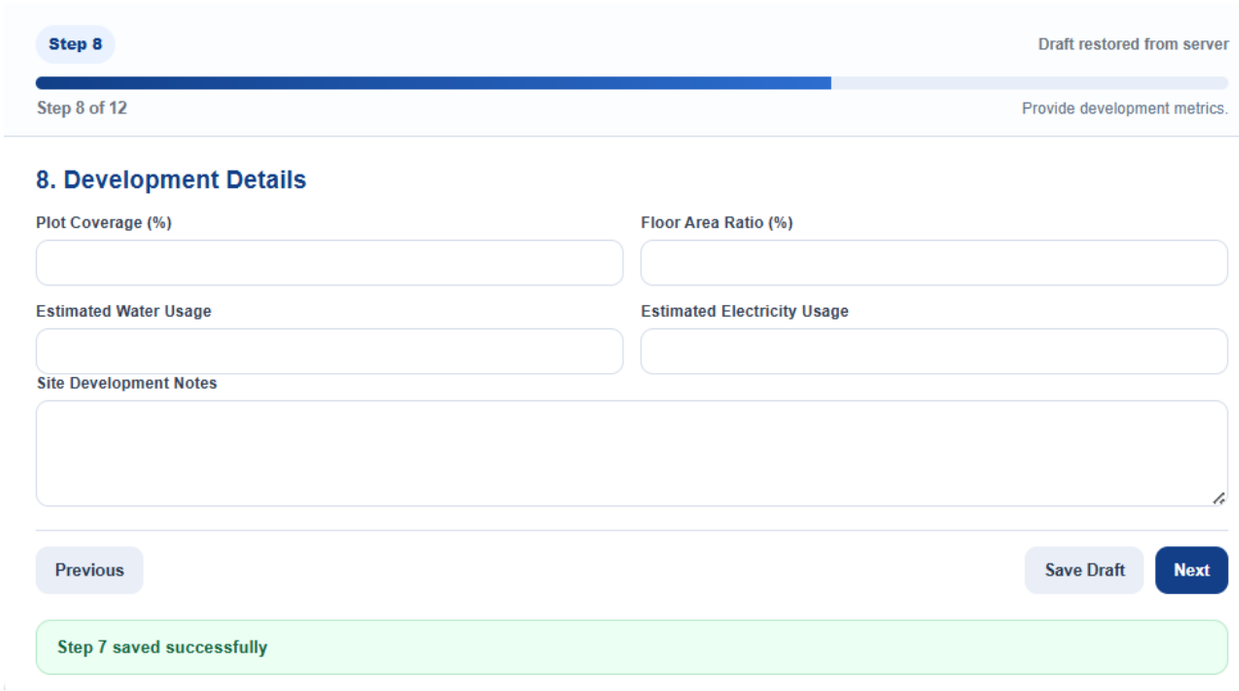

Step 9 – Fill Housing Units & Parking

This step is used to capture information about the number of housing units and parking facilities included in the proposed development. The applicant must provide details such as the number of existing units, proposed new units, and the total number of units after development. This helps authorities understand the scale of residential or functional expansion within the project.

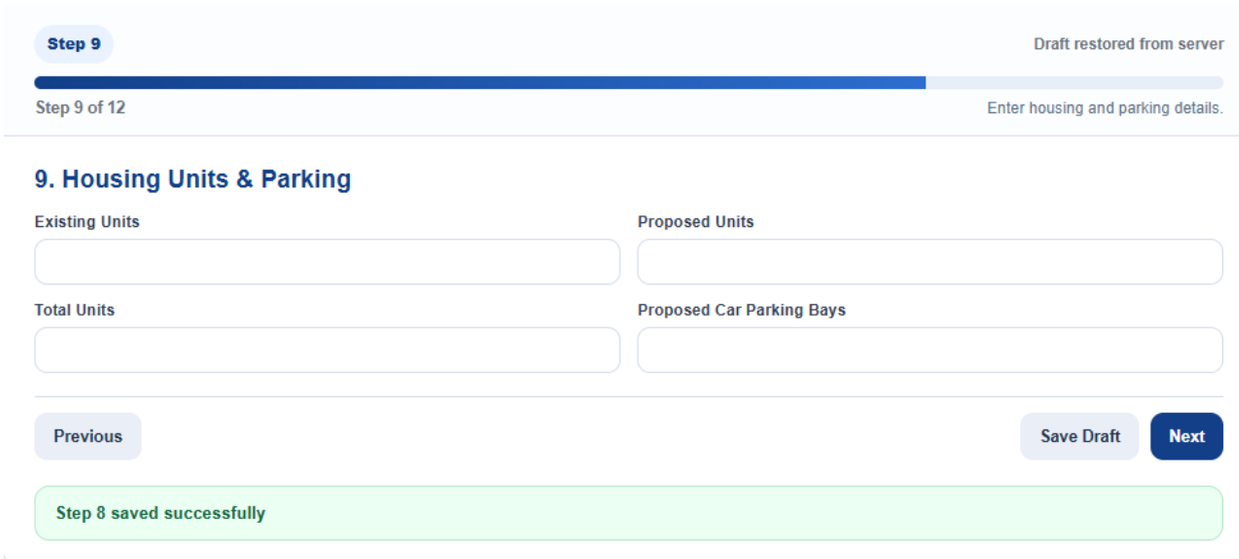

Step 10 – Click The Submitted Plans & Special Compliance.

This step is used to specify the types of plans and documents that are being submitted as part of the planning application. The applicant must select the relevant plans, such as the site plan, floor plan, roof plan, cross-sections, and front and rear elevation drawings. These documents provide a detailed visual representation of the proposed development.

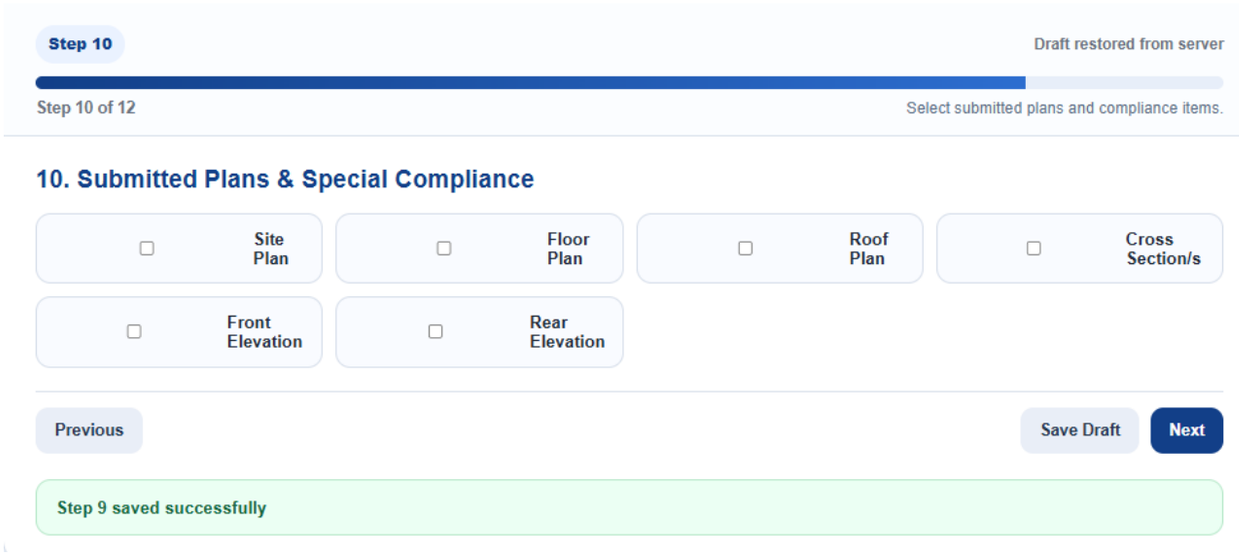

Step 11 – Upload Attachments & Supporting Documents

This step is used to upload all required documents that support the planning approval application. The applicant must attach important files such as the site plan, survey plan, clearance documents, and any other relevant supporting documents. These files provide detailed evidence and validation for the information entered in previous steps.

When upload Document Click the Choose File Button.

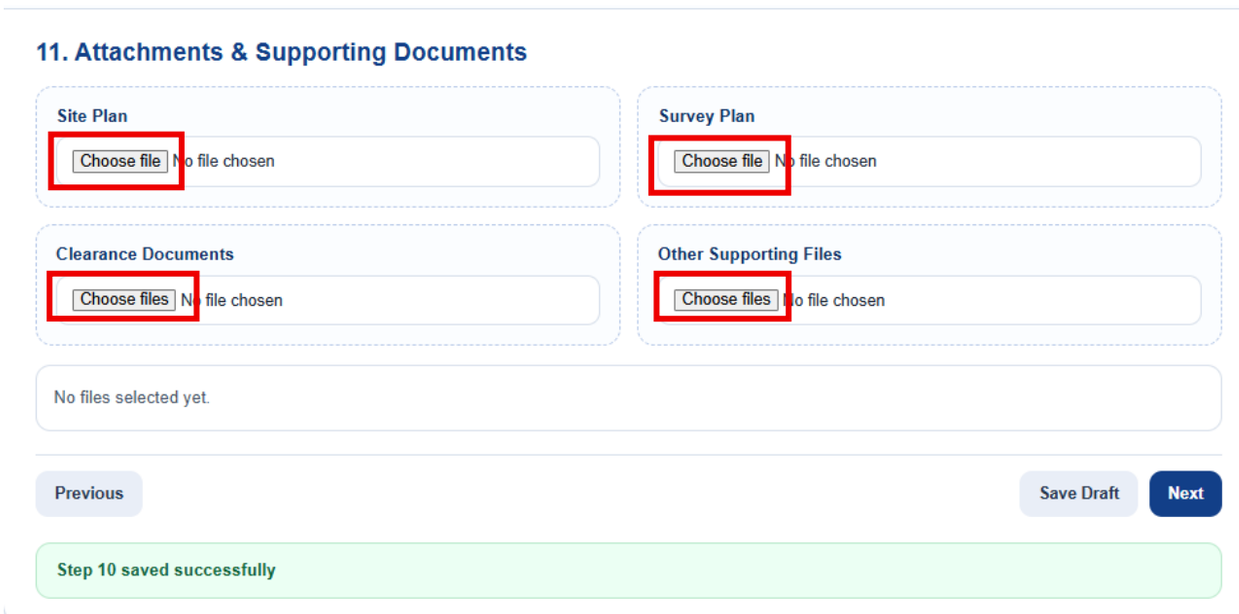

Step 12- Final Review & Submit

This is the final step of the planning approval application process, where the applicant reviews all the information entered in the previous steps before submission. The system provides a “Generate Review” option, allowing users to preview a complete summary of their application. This helps ensure that all details are accurate, complete, and properly filled.

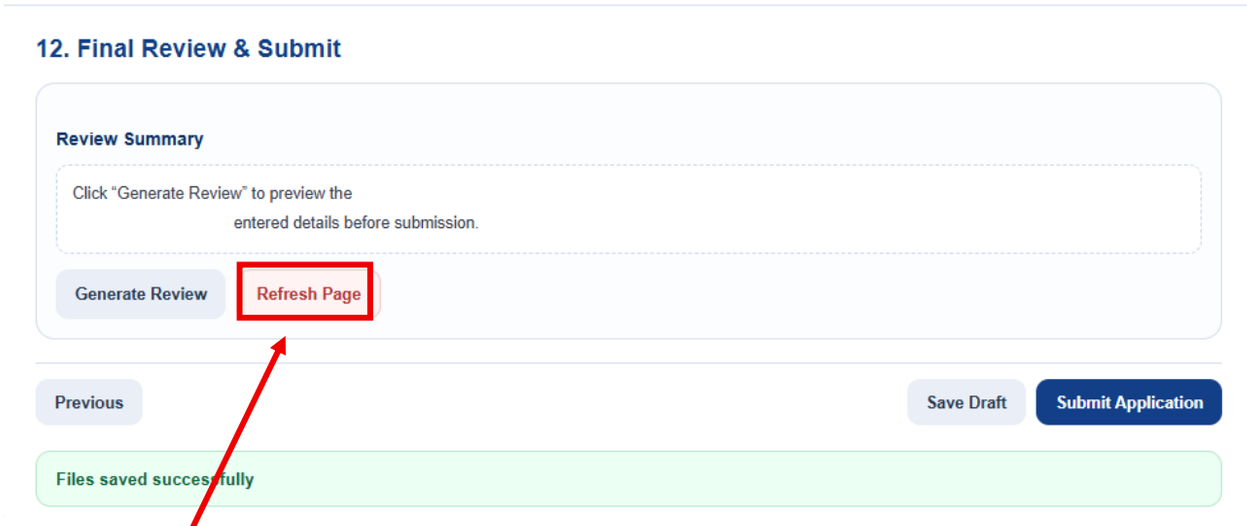

If any corrections are needed, users can go back to previous steps and make necessary changes. The Refresh Page option can also be used to reload the review summary if updates have been made.

Once the applicant is satisfied with the information, they can proceed by clicking the “Submit Application” button. This officially sends the application to the relevant authorities for review and approval. The purpose of this step is to ensure accuracy, completeness, and confidence before final submission, reducing the chances of errors or delays in processing.

9. Applications

The My Applications section allows users to view and manage all their submitted and ongoing planning approval applications in one place. This page provides a clear overview of each application, including important details such as the application ID, current status (e.g., draft, submitted, approved, or rejected), and the current step in the process.

Users can also view any comments provided by administrators, along with the date and time the application was created and last updated. This helps users track progress and stay informed about any required actions or updates.

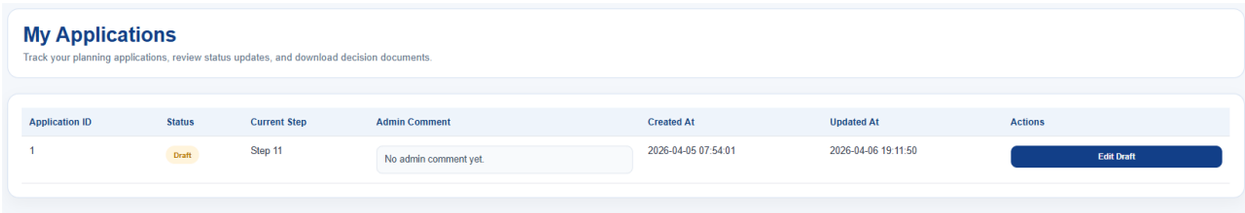

10. Log Out

If you want to log out,

Click the Log out Button under the navigation panel

When you log out successfully, the Login Page shows " You Have Been Logged Out".

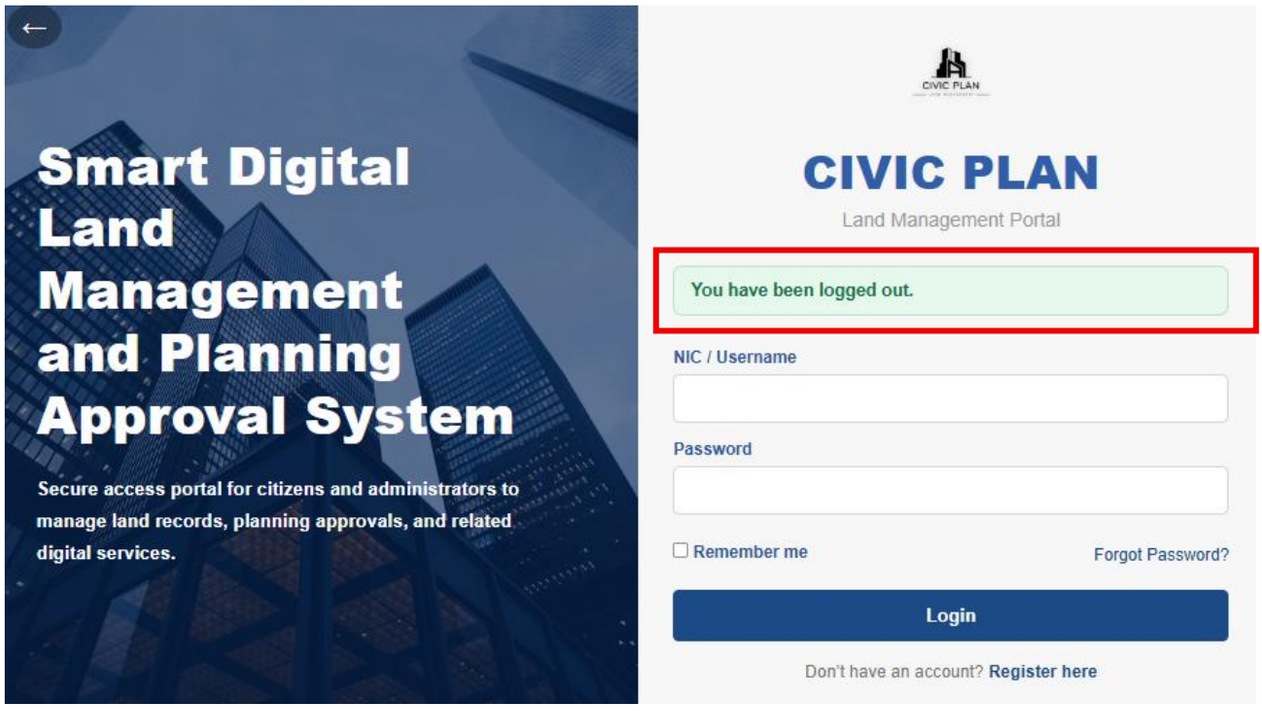

11. How to Recover a Password when you Forget It

Click the Forget Password In sign in page

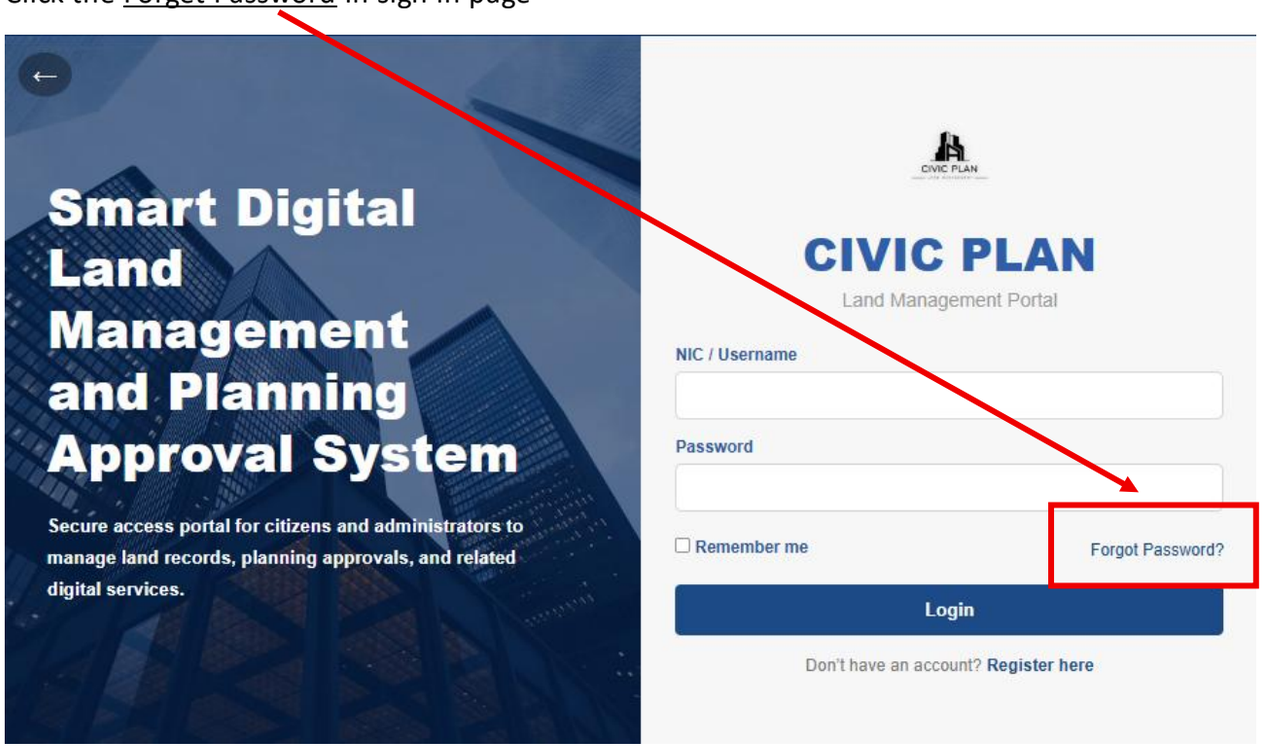

Next step, you can see this page.

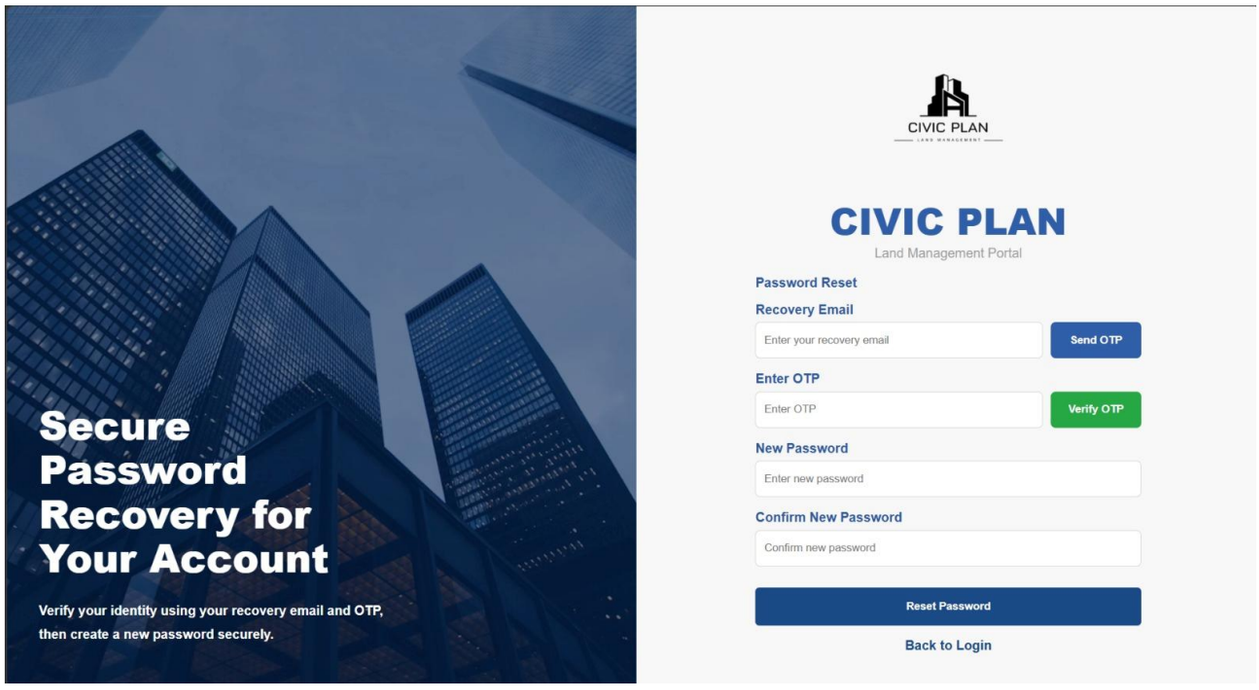

Follow this Steps

1. Enter Your Recovery Email
2. Type your registered email address into the Recovery Email field.
3. Then click the "Send OTP" button to receive a verification code.

4. Check Your Email for OTP
5. Open your email inbox and find the One-Time Password (OTP) sent by the system.
6. Enter the OTP
7. Type the received OTP into the Enter OTP field.
8. Click “Verify OTP” to confirm your identity.
9. Create a New Password
10. Enter your new password in the New Password field.
11. Make sure it is strong and secure.
12. Confirm Your Password
13. Re-enter the same password in the Confirm New Password field to ensure accuracy.
14. Reset Your Password
15. Click the “Reset Password” button to complete the process.
16. Return to Login
17. Once successful, click “Back to Login” and sign in using your new password.

12. Tips for Users

SAVE YOUR PROGRESS REGULARLY

DOUBLE-CHECK INFORMATION BEFORE SUBMISSION

UPLOAD CLEAR AND CORRECT DOCUMENTS

Keep your login details secure